Seismicity of the World

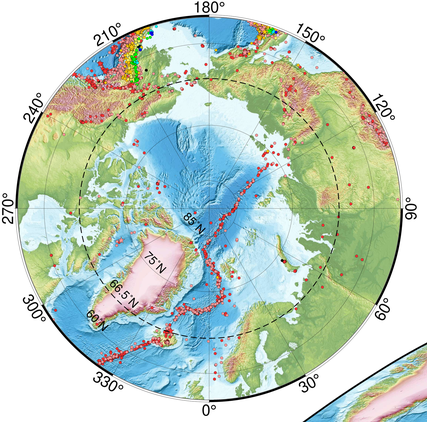

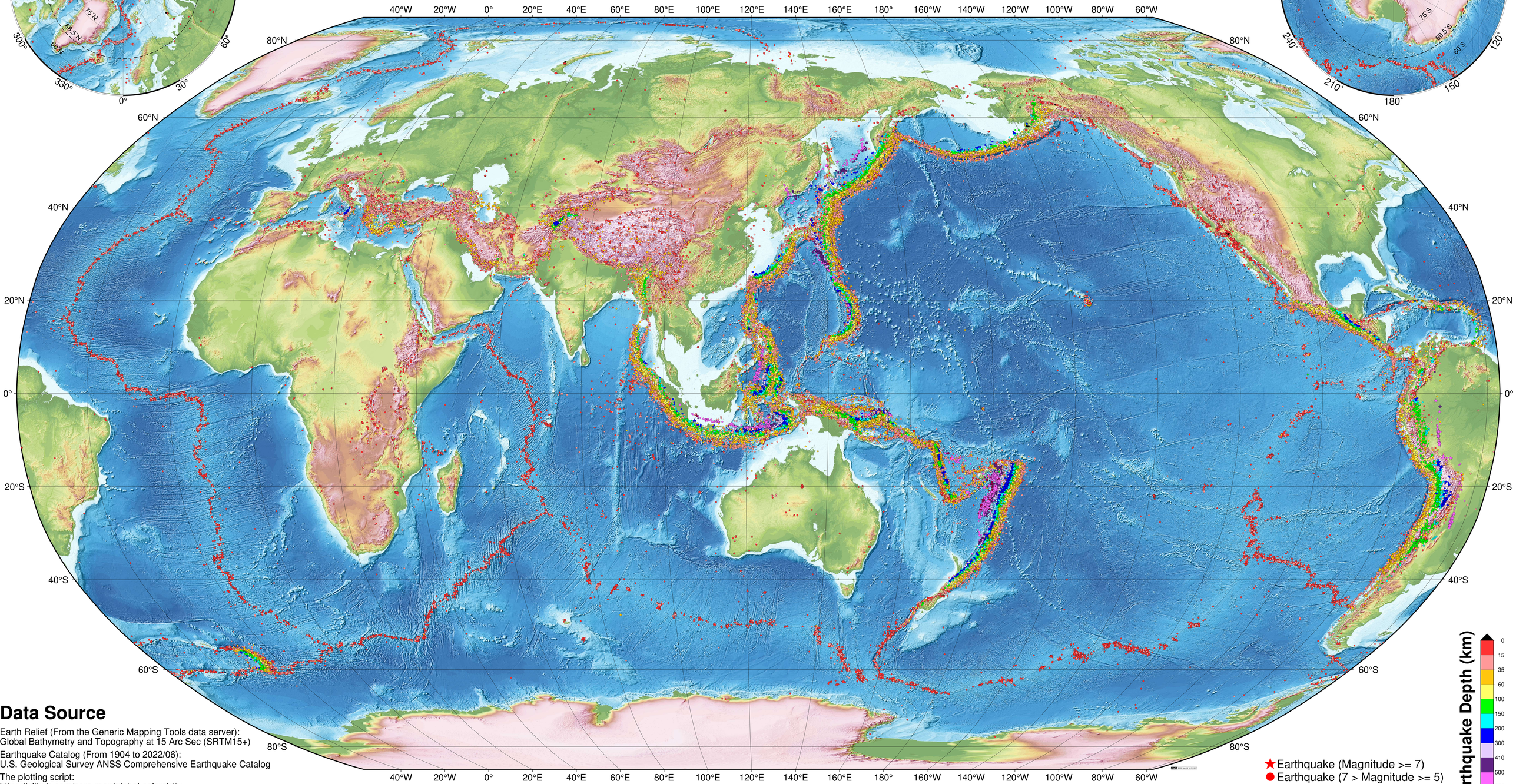

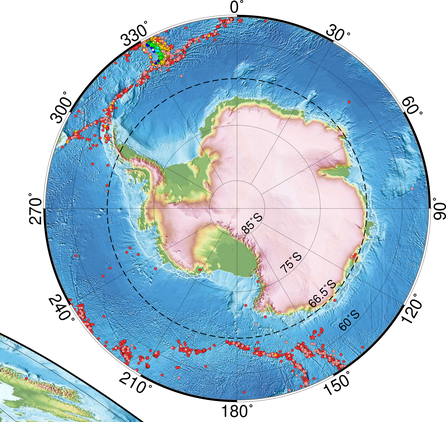

Data Source

Earth Relief (From the Generic Mapping Tools data server):
Global Bathymetry and Topography at 15 Arc Sec (SRTM15+)

Earthquake Catalog (From 1904 to 2022/06):
U.S. Geological Survey ANSS Comprehensive Earthquake Catalog

The plotting script:
https://github.com/core-man/global-seismicity